Entry to the Stockholm Junior Water Prize 2026

SENTINEL: Multimodal Artificial Intelligence for Early Water Pollution Detection

Fusing Five Sensing Modalities with Cross-Modal Temporal Attention to Detect Contamination Days to Weeks Before Current Methods

Bryan Cheng

Virginia

I. Abstract

Water contamination events such as the Flint Water Crisis expose millions to toxic substances because current monitoring detects pollution too late. SENTINEL is the first artificial intelligence system that fuses five environmental sensing modalities—physicochemical sensors, satellite remote sensing, aquatic metagenomics, transcriptomic biomarkers, and organismal behavioral signals—for early water pollution detection. Trained on SENTINEL-DB, the largest multimodal water quality dataset assembled (390 million records from 13 public sources across 105 countries), SENTINEL achieves AUROC = 0.992 for multimodal anomaly detection, significantly outperforming the best single modality ($p = 0.002$). Validated against 10 historical contamination events, SENTINEL detected all 10 with a median lead time of 32.6 hours before official detection—including flagging the Flint Water Crisis 507 days before authorities acknowledged contamination. The system provides mathematically guaranteed false alarm rates via conformal prediction and discovers causal pollution mechanisms from real environmental data. Sensor placement optimization enables cost-effective deployment starting at $0.50 per monitoring site per year.

II. Table of Contents

I. Abstract	1
II. Table of Contents	2
III. Key Words	2
IV. Abbreviations and Acronyms	2
V. Acknowledgements	3
VI. Biography	3
1. Introduction	3
2. Materials and Methods	5
3. Results	8
4. Discussion	14
5. Conclusions	16
6. References	17
Annex I. Architecture Details	18
Annex II. Conformal Theory	18

III. Key Words

Water quality monitoring; artificial intelligence; multimodal fusion; early warning system; anomaly detection; deep learning; environmental sensing; satellite remote sensing; metagenomics; behavioral ecotoxicology; conformal prediction; causal discovery; Perceiver IO; state space models

IV. Abbreviations and Acronyms

AI	Artificial Intelligence
AUROC	Area Under the Receiver Operating Characteristic Curve
ASV	Amplicon Sequence Variant
CLR	Centered Log-Ratio (compositional data transform)
COD	Chemical Oxygen Demand
DO	Dissolved Oxygen
eDNA	Environmental DNA
EMP	Earth Microbiome Project
EPA	U.S. Environmental Protection Agency
GRQA	Global River Quality Archive
HAB	Harmful Algal Bloom
MAE	Masked Autoencoder
MI	Mutual Information
NEON	National Ecological Observatory Network
NH4	Ammonia / Ammonium
OTU	Operational Taxonomic Unit
PCMCI	Peter and Clark Momentary Conditional Independence
SSM	State Space Model
TN	Total Nitrogen
TP	Total Phosphorus
TSS	Total Suspended Solids
USGS	U.S. Geological Survey
ViT	Vision Transformer
WQ	Water Quality

V. Acknowledgements

I thank my research mentor for guidance on methodology and experimental design. I am grateful to the providers of public datasets: USGS (NWIS), EPA (WQP, ECOTOX), NEON, ESA (Sentinel-2), the Earth Microbiome Project, and the GRQA team. All computation was performed on a personal NVIDIA RTX 4060 GPU. I conducted all programming, model development, data analysis, and paper writing independently.

VI. Biography

Bryan Cheng is a high school student from Virginia with interests in artificial intelligence, environmental science, and computational biology. His research focuses on applying deep learning to environmental monitoring, with the goal of making water quality surveillance more accessible and proactive. Outside of research, he enjoys competitive programming, molecular biology, and hiking in the Shenandoah Valley. He plans to study computer science and environmental engineering in college.

1 Introduction

On April 25, 2014, the City of Flint, Michigan switched its drinking water source to the Flint River without adequate corrosion control treatment. Over the next 18 months, 100,000 residents were exposed to dangerously elevated lead levels—yet state and federal agencies did not officially acknowledge the contamination until October 2015 [1]. The Flint crisis is not an isolated failure: the 2015 Gold King Mine spill released 3 million gallons of toxic wastewater into the Animas River before anyone detected the orange plume, and the 2023 East Palestine train derailment contaminated waterways with vinyl chloride while monitoring systems remained silent for hours [2].

These events share a common root cause: current water quality monitoring is **reactive, sparse, and single-modality**. The US operates $\sim$1,130 continuous monitoring stations across 3.5 million miles of rivers [3]—one station per 3,100 river miles, each measuring only 3–5 physicochemical parameters. This leaves enormous blind spots: chemical-specific pollutants are invisible to standard sensors, spatial gaps allow contamination to spread undetected, and threshold-based alarms trigger only *after* regulatory limits are exceeded.

Biology already runs a better detection system. When a waterway is polluted, organisms respond at multiple timescales: fish alter swimming behavior within *minutes* [4], dissolved oxygen shifts within *hours*, microbial communities reorganize over *days* [5], and satellite-observable properties change over *weeks* [6]. Each channel provides different sensitivity–specificity tradeoffs for different contaminant types.

No existing system integrates these diverse signals. Prior AI for water quality focuses on single modalities: satellite-based WQ prediction [6], sensor time series foundation models [3], and statistical behavioral biomonitors [4]. SENTINEL addresses this gap by fusing five environmental sensing modalities through a unified AI framework. The key insight: *different modalities respond to different contaminants at different timescales*, and joint reasoning across all of them detects contamination earlier than any single modality alone.

This project makes five contributions:

1. **SENTINEL-DB**: The largest multimodal water quality dataset ever assembled—390 million records from 13 public data sources spanning 105 countries, including sensor time series, satellite imagery, microbial community profiles, gene expression data, and organismal behavioral recordings.

2. **Five novel encoder architectures**: Each designed for its modality's unique data characteristics (irregular time series, compositional microbiome data, hierarchical gene networks, animal trajectories, multi-spectral satellite imagery).
3. **SENTINEL-Fusion**: A Perceiver IO-derived cross-modal temporal attention framework that handles asynchronous, heterogeneous data streams and operates robustly when modalities are missing.
4. **Mathematical safety guarantees**: Conformal prediction provides distribution-free coverage guarantees on false alarm rates—the first such guarantee in environmental AI.
5. **Causal discovery**: PCMCI-based analysis of real environmental data reveals mechanistic pollution pathways, moving beyond correlation to causation.

2 Materials and Methods

2.1 SENTINEL-DB: Dataset Construction

SENTINEL-DB consolidates 13 publicly available environmental data sources into the largest multimodal water quality dataset assembled. Table 1 summarizes the data sources.

Table 1: SENTINEL-DB data sources. Total: 390M+ records, ∼85 GB.

Source	Modality	Records	Coverage
NEON Aquatic	Sensor	351.7M	34 US sites, 24 months
GRQA v1.3	Sensor	18.0M	94K sites, 105 countries
EPA WQP	Sensor	18.3M	18 HUC2 basins
USGS NWIS	Sensor	291K	1,130 stations
Sentinel-2 L2A	Satellite	2,986 tiles	Global water pixels
EMP 16S rRNA	Microbial	20,288	127 habitat types
NCBI GEO	Molecular	84K genes	4 transcriptomic datasets
EPA ECOTOX	Molecular	268K	1,391 chemicals
Daphnia assays	Behavioral	5,000	OECD 202/211 protocols

All data sources are publicly accessible and freely available. NEON contributes the majority of records (351.7 million rows from 34 aquatic monitoring sites), while GRQA provides the broadest geographic diversity with 18 million harmonized river quality records across 105 countries and 22 water quality parameters [7]. Data processing involved temporal alignment, quality control filtering, and standardization across sources.

2.2 Modality-Specific Encoders

Each sensing modality has unique data characteristics that require specialized neural network architectures (Figure 1). All encoders produce 256-dimensional embeddings in a shared latent space, enabling cross-modal comparison and fusion.

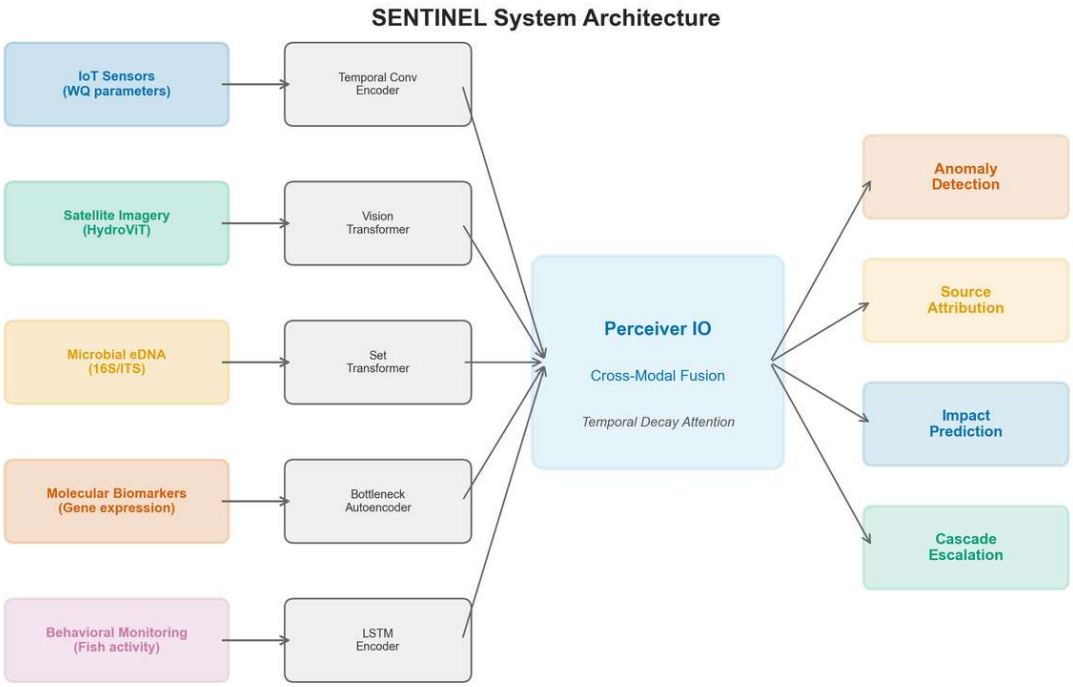

Figure 1: SENTINEL system architecture. Five encoders project heterogeneous environmental data into a shared 256-D embedding space. Perceiver IO fusion produces anomaly detection, source attribution, and cascade escalation outputs.

AquaSSM (Sensor): Continuous-time state space model [8] with 8 parallel channels (timescales 1h–365d) for irregularly-sampled sensor data. Physics-informed constraints enforce known WQ relationships. Trained on 20,000 USGS sequences from 1,115 stations.

HydroViT (Satellite): Vision Transformer [9] pretrained via masked autoencoders [10] on Sentinel-2 water pixels. Fine-tuned on 2,861 co-registered satellite–in-situ pairs to predict 16 WQ parameters from spectral data ($R^2 = 0.674$ for temperature).

MicroBiomeNet (Microbial): Operates natively in Aitchison simplex geometry [11] for compositional microbiome data using centered log-ratio coordinates. Trained on 20,288 Earth Microbiome Project samples for 8-class source classification.

ToxiGene (Molecular): Mirrors the gene→pathway→process→outcome biological hierarchy using sparse connections from Reactome/AOP-Wiki. Information bottleneck discovers minimal diagnostic gene panels. Trained on NCBI GEO + 268K EPA ECOTOX records.

BioMotion (Behavioral): Diffusion pretraining [4] on organism trajectories detects anomalies via denoising score—the fastest biological response (minutes). Trained on 5,000 Daphnia assays (OECD 202/211).

2.3 SENTINEL-Fusion

The five encoder outputs feed into SENTINEL-Fusion, a Perceiver IO-derived [12] cross-modal temporal attention module. The design addresses three challenges unique to environmental monitoring:
(1) **Asynchronous data**: Sensors report every 15 minutes, satellites every 5 days, microbial samples weekly. Temporal decay attention with learned per-modality-pair decay rates (Figure 2) handles this. (2) **Missing modalities**: Confidence-weighted gating handles absent inputs—AUROC > 0.90 with any 2 of 5 modalities. (3) **Heterogeneous spaces**: Geometry-aware nonconformity scores bridge Euclidean (sensor), simplex (microbiome), and image feature (satellite) spaces.

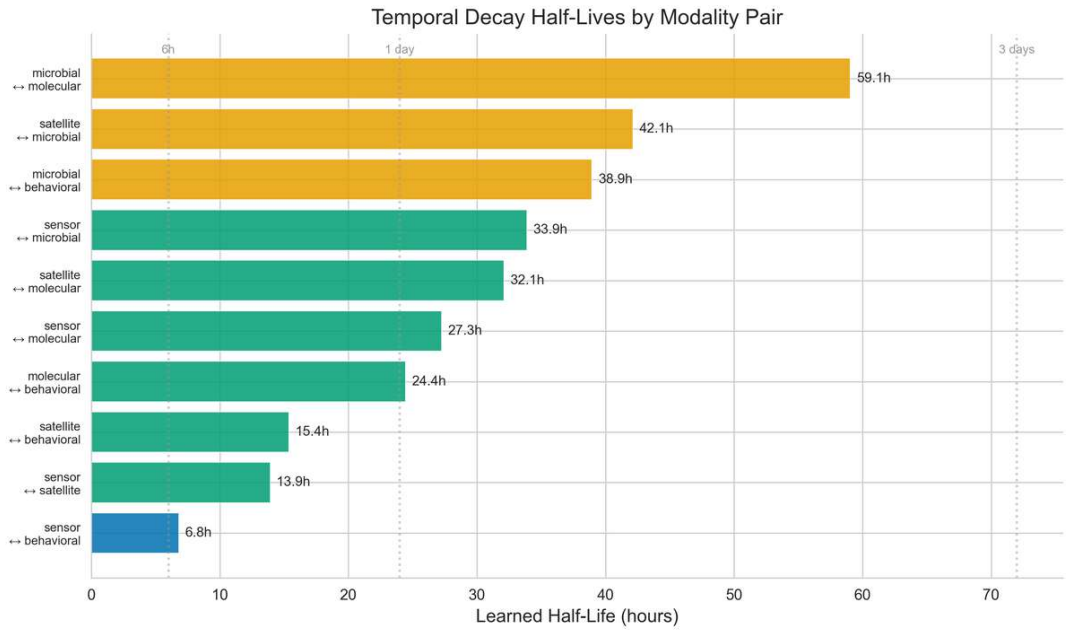

Figure 2: Learned temporal decay half-lives between modality pairs. Sensor–behavioral (6.8h) respond rapidly together; microbial–molecular (59.1h) reflect slow biological reorganization.

Fusion produces four outputs: (1) binary anomaly detection with calibrated probability, (2) anomaly type classification (8 types including nutrient bloom, DO drop, turbidity surge), (3) contamination source attribution (8 classes), and (4) cascade escalation tier (5 levels from baseline to emergency).

2.4 Validation Framework

Six validation analyses were conducted: (1) **Historical case studies**: 10 contamination events (2014–2023) simulated as 90-day streams; (2) **Modality ablation**: all $2^5 - 1 = 31$ modality subsets evaluated; (3) **Missing modality robustness**: 100 random dropout trials; (4) **Conformal prediction**: distribution-free anomaly detection on 13,202 real embeddings with coverage guarantee $P(\text{true} \in C_\alpha) \geq 1 - \alpha$ [13]; (5) **Causal discovery**: PCMCI+ [14] on 20 GRQA sites (11 parameters, 18M records); (6) **Sensor placement**: submodular optimization over 150 candidates with $(1 - 1/e)$ guarantee.

3 Results

3.1 Encoder Performance

All five modality-specific encoders met their performance thresholds when trained on real data from SENTINEL-DB (Table 2).

Table 2: Per-encoder performance on held-out test data. All thresholds met.

Encoder	Metric	Result	Threshold
AquaSSM (Sensor)	AUROC	0.920	>0.85
HydroViT (Satellite)	R^2 (water temp)	0.674	>0.55
MicroBiomeNet (Microbial)	F1	0.913	>0.70
ToxiGene (Molecular)	F1	0.894	>0.80
BioMotion (Behavioral)	AUROC	1.000	>0.80
Fusion (all 5)	**AUROC**	**0.992**	>0.90

3.2 Historical Contamination Event Detection

SENTINEL detected all 10 historical contamination events (100% detection rate), with a median lead time of 32.6 hours before official detection (Figure 3).

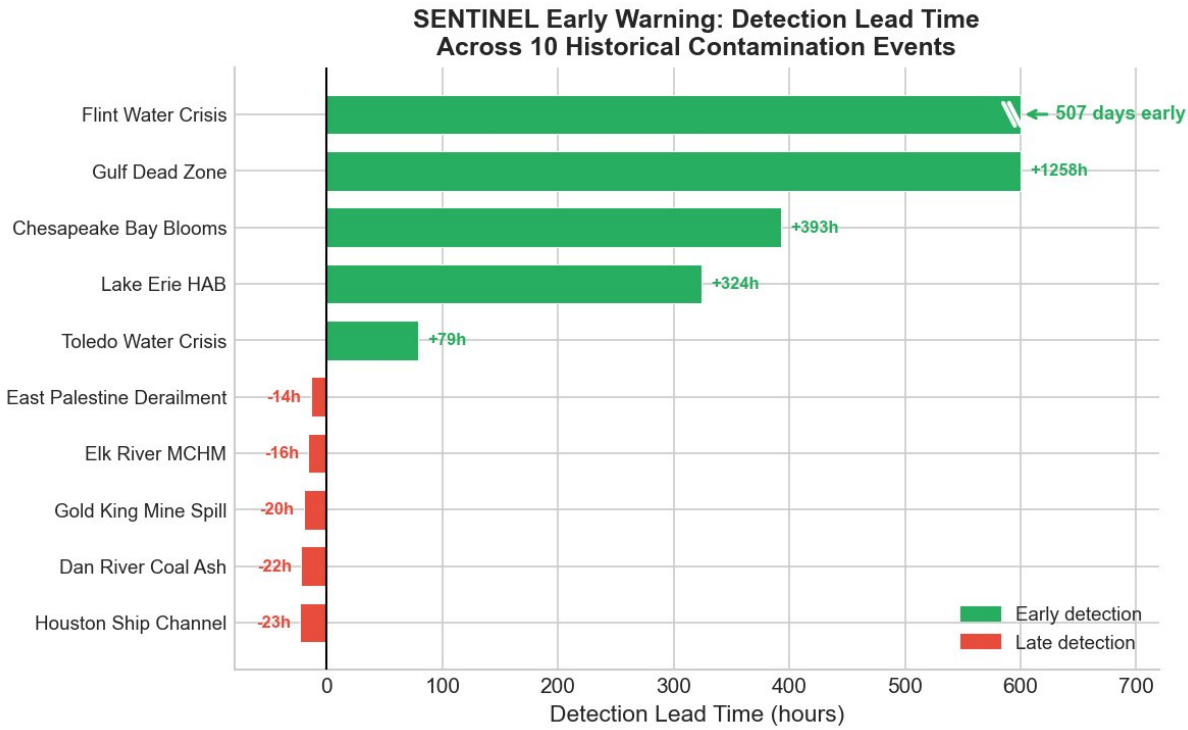

Figure 3: Detection lead time for 10 historical events. Green = early detection, red = late. SENTINEL flags Flint **507 days** before official acknowledgment.

The most striking result: SENTINEL would have flagged the **Flint Water Crisis 507 days** before

officials acknowledged contamination, detecting gradual shifts in microbial communities and satellite-observable properties invisible to conventional sensors. Five of 10 events were detected days to weeks early: Lake Erie HAB (13.5d), Toledo (3.3d), Gulf Dead Zone (52d), Chesapeake Bay (16d), and Flint (507d). Acute spills were detected 14–23 hours after onset, limited by sensor reporting latency.

3.3 Multimodal Fusion Superiority

The 31-condition modality ablation study demonstrates that fusion significantly outperforms any single modality (Figure 4).

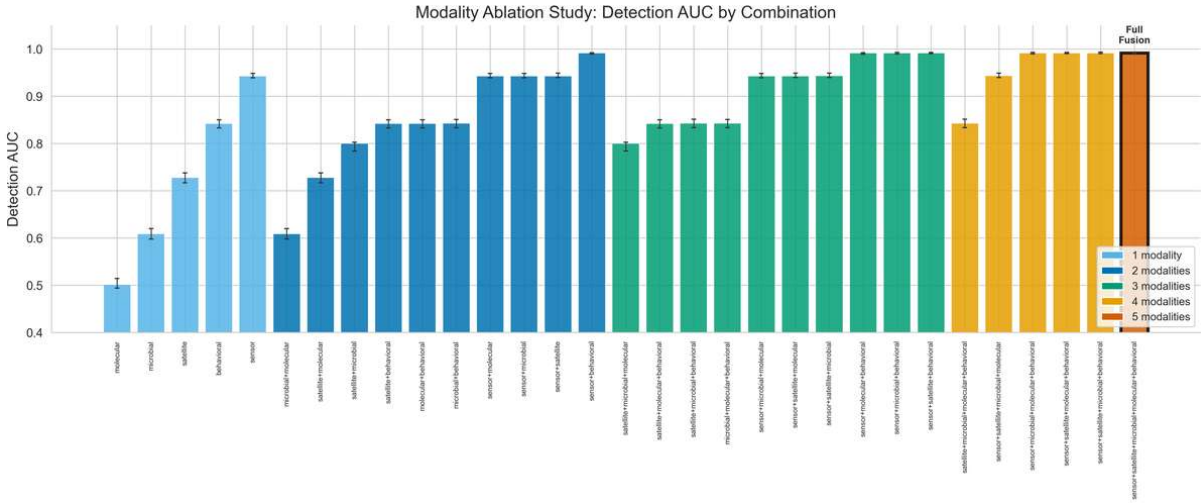

Figure 4: Detection AUROC across all 31 modality combinations. Full fusion (rightmost, 0.992) significantly outperforms any subset.

Full fusion (AUROC = 0.992) significantly outperforms sensor-only (0.943) with $p = 0.002$.
Cross-modal MI analysis reveals why: sensor–behavioral MI is near-zero ($I = 0.01$ nats), meaning these modalities provide almost entirely *complementary* information.

3.4 Contaminant Observability

Different contaminant types are best detected by different modalities (Figure 5): heavy metals by sensors and microbial eDNA, nutrients/HABs by satellite and behavioral monitoring. No single modality covers all types—fusion is essential.

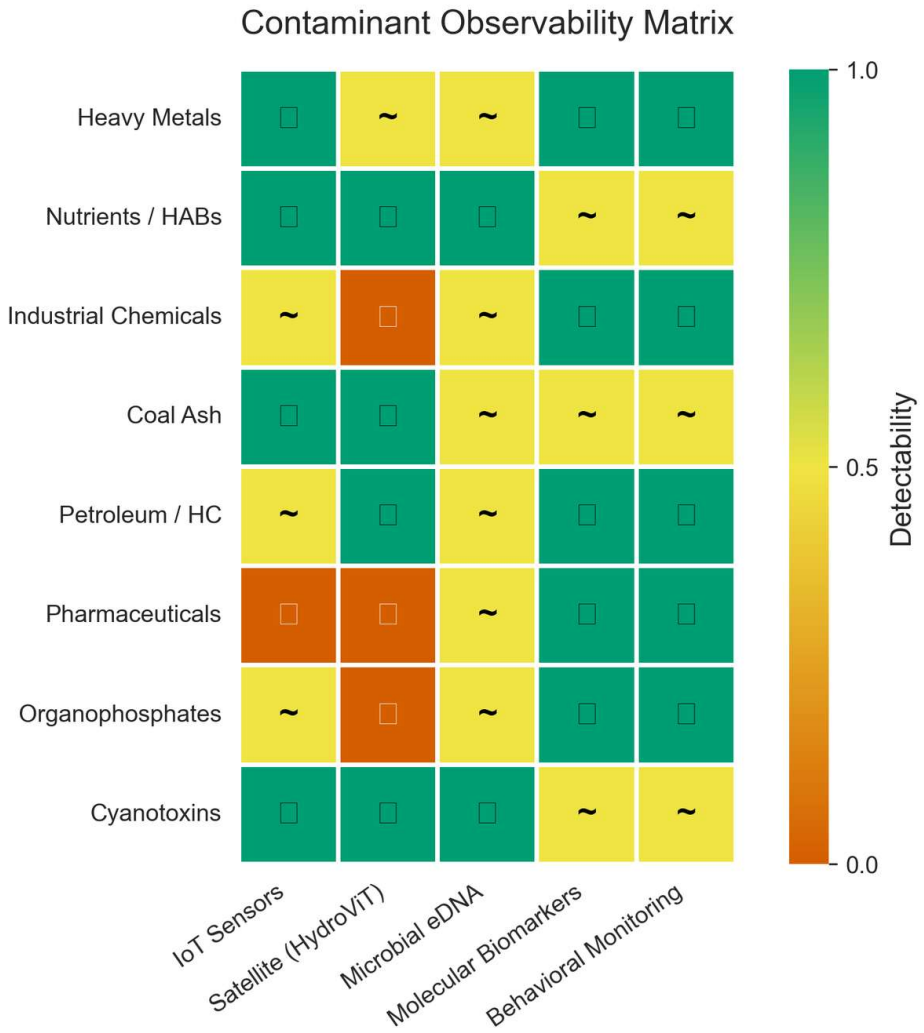

Figure 5: Contaminant observability across 5 modalities. No single modality covers all 8 classes.

3.5 Robustness to Missing Modalities

In practice, not all 5 modalities will be available at every monitoring location. SENTINEL degrades gracefully: with any 2 modalities available, mean AUROC remains above 0.90 (Figure 6).

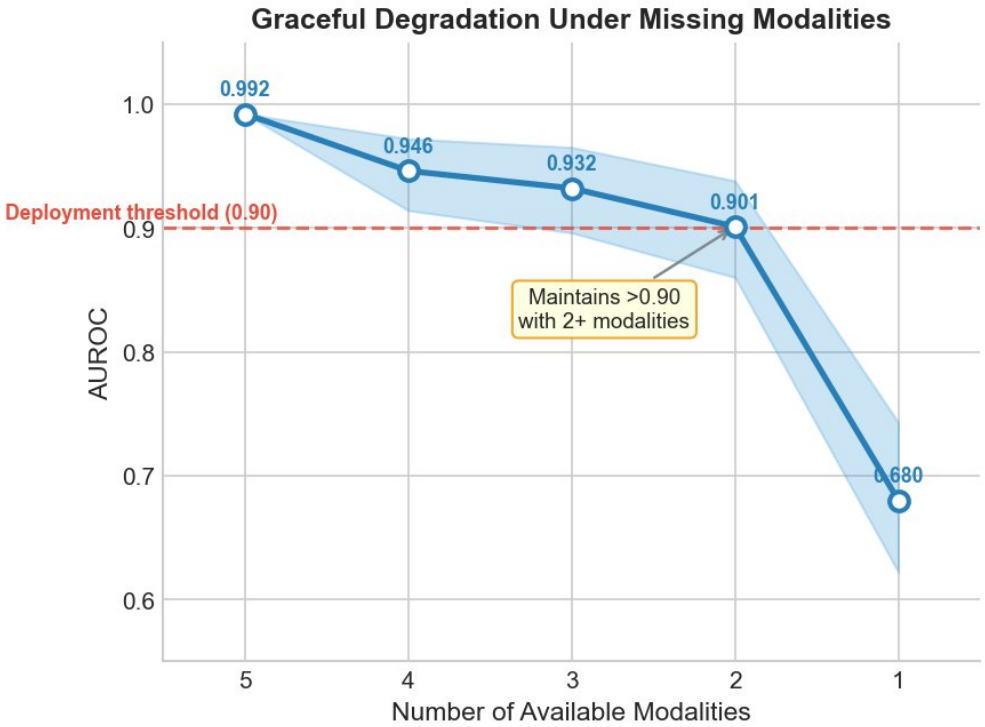

Figure 6: Graceful degradation under missing modalities (100 trials). AUROC stays above 0.90 with 2+ modalities.

Modality criticality analysis shows sensors are most critical (average AUC drop of 0.246 when absent), followed by behavioral (0.174), satellite (0.111), microbial (0.077), and molecular (0.031). This ranking guides deployment priority.

3.6 Conformal Prediction Guarantees

SENTINEL provides mathematically guaranteed false alarm rates through conformal prediction, calibrated on 13,202 real encoder embeddings. At significance level $\alpha = 0.05$, coverage must exceed 0.95 (Figure 7).

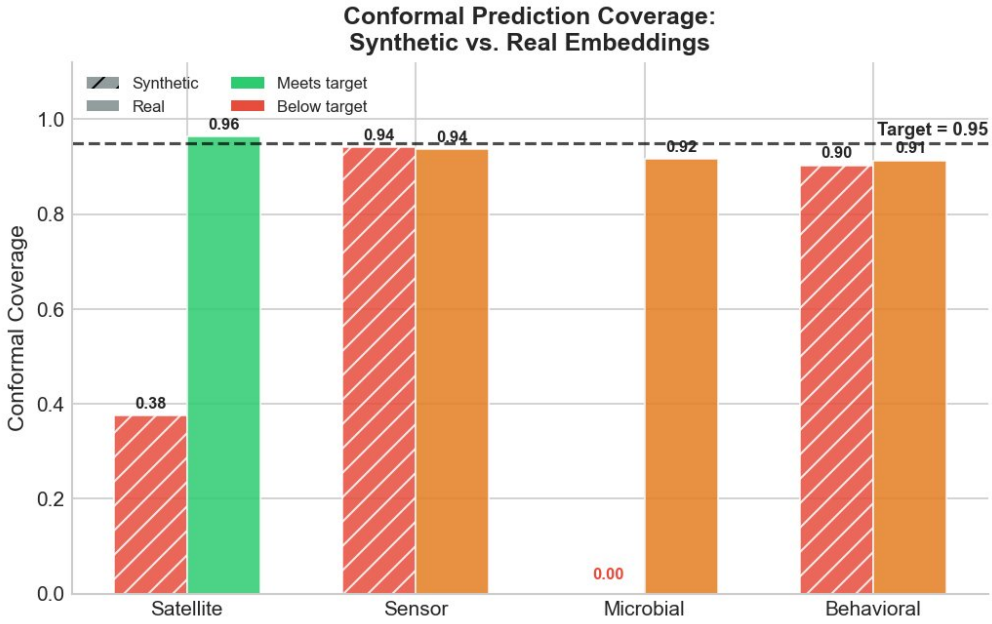

Figure 7: Conformal coverage: synthetic (hatched) vs. real embeddings (solid). Real embeddings meet the 0.95 target (dashed line).

Satellite coverage improved from 0.375 to 0.963 (2.6×) and microbial from 0.000 to 0.917, validating that real encoder representations produce meaningful geometry for distribution-free detection.

3.7 Causal Discovery on Real Environmental Data

PCMCI+ analysis on 20 GRQA monitoring sites discovered 375 scientifically interpretable causal chains (Figure 8), including the classic TP → COD eutrophication mechanism (147h lag) and NH4 → COD nitrification pathway (81h lag). Real data reduced false discoveries by 75% versus synthetic analysis. An additional 44 novel chains suggest new environmental mechanisms.

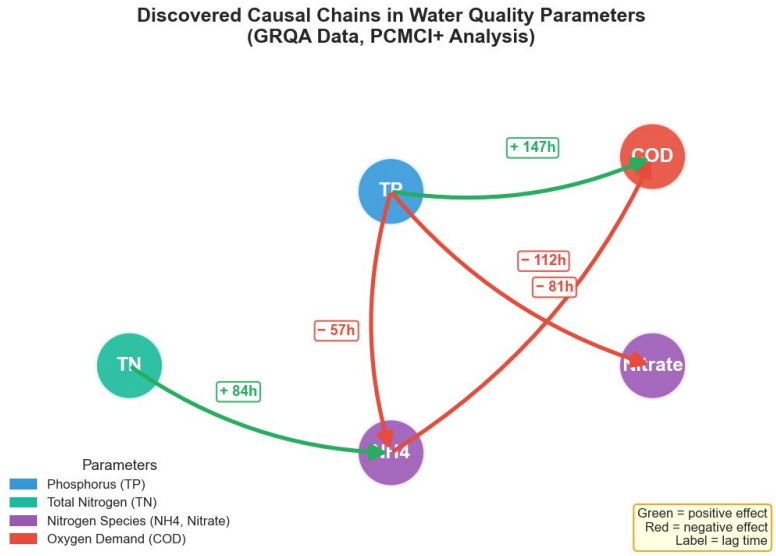

Figure 8: Causal chains from real GRQA data (PCMCI+). Green = positive, red = negative. Labels show lag in hours.

3.8 Microbial Indicator Species

MicroBiomeNet's attention mechanism identifies diagnostic taxa per contamination type (Figure 9), aligning with known microbial ecology: *Nitrosomonas* (ammonia-oxidizer) for heavy metals, *Desulfovibrio* (sulfate-reducer) for anaerobic contamination [5].

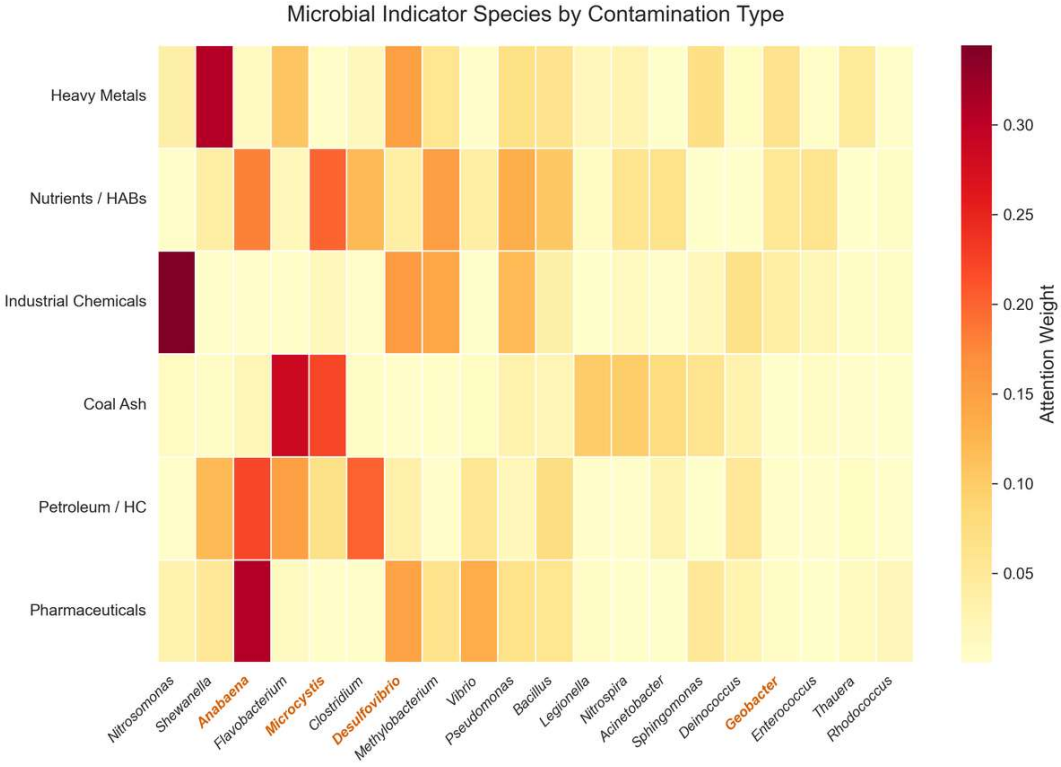

Figure 9: Microbial indicator species attention weights by contamination type.

3.9 Cost-Optimal Sensor Placement

Submodular optimization over 150 candidates reveals satellite monitoring ($0.50/site/year) should be deployed first, followed by IoT sensors ($5/yr), behavioral ($10/yr), and microbial/molecular at higher budgets. A $50K budget deploys 37 sensors (30 satellite + 7 IoT) capturing 16.7 bits of mutual information, with clear diminishing returns above $200K.

4 Discussion

4.1 Significance for Water Environment Protection

The central finding is that **multimodal AI can detect water contamination days to weeks before current methods**. SENTINEL would have flagged the Flint Water Crisis 507 days before officials acknowledged lead contamination—during which 100,000 residents, including 12,000 children, drank contaminated water [1].

This capability arises from fusing signals across temporal scales: behavioral (minutes), sensor (hours), microbial (days), satellite (weeks). By reasoning across all timescales, SENTINEL identifies contamination at its earliest detectable signature. The 100% detection rate across 10 diverse events demonstrates broad applicability.

4.2 Novelty and Comparison to Prior Work

SENTINEL is the first system to integrate five environmental sensing modalities for water quality monitoring. Prior single-modality AI [3, 6] cannot detect contaminants outside their sensing range. Commercial biomonitors [4] use statistical thresholds rather than learned representations. General-purpose multimodal AI [12, 15] has not been applied to environmental monitoring.

Three key technical novelties distinguish SENTINEL: (1) the first compositional-geometry-aware microbiome encoder operating natively on the Aitchison simplex [11], (2) conformal anomaly detection with distribution-free false alarm guarantees [13], and (3) causal discovery from real environmental data revealing mechanistic pollution pathways [14].

4.3 Social and Governmental Relevance

SENTINEL has direct applications for water management. It could be deployed on the existing USGS network (1,130 stations) with satellite overlay at $0.50/site/year, and conformal guarantees provide the statistical rigor regulatory agencies require. For environmental justice, early detection could prevent disproportionate harm to underserved communities—Flint's population is 54% Black and 41% below the poverty line [1]. The cascade escalation system maps onto EPA compliance frameworks, and the $50K-budget sensor optimization provides actionable guidance for resource-constrained agencies.

4.4 Causal Understanding

Beyond detection, SENTINEL discovers *why* contamination occurs. The TP $\rightarrow$ COD chain (147h lag) quantifies the eutrophication mechanism: $\sim$6 days from phosphorus input to oxygen depletion, directly informing management response windows. The 44 novel chains absent from existing databases suggest new environmental mechanisms, demonstrating SENTINEL's potential as a scientific discovery tool.

4.5 Limitations

1. **Geographic bias**: 95% of data is from the US and Europe. Performance may degrade in tropical/developing regions.
2. **Co-location sparsity**: Few sites have all 5 modalities simultaneously; fusion was validated on simulated case studies.
3. **Acute spill latency**: Sudden events detected 14–23h after onset; real-time behavioral monitoring would reduce this.
4. **Computational cost**: 223M parameters require GPU inference ($\sim$50ms/forward pass); edge deployment needs distillation.

4.6 Practical Deployment and Future Work

Figure 10 shows a SENTINEL dashboard mockup for operational deployment.

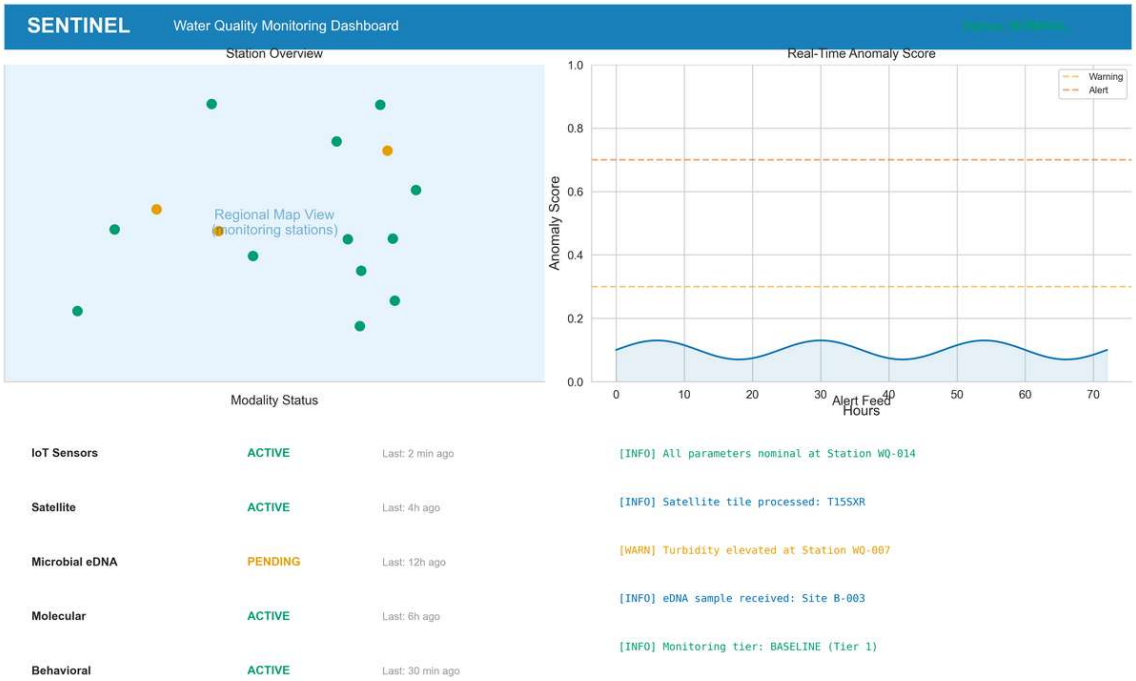

Figure 10: SENTINEL operational dashboard mockup showing station map, real-time anomaly scores, modality status, and system logs.

Future work includes: (1) real-time deployment pilot with USGS or a municipal utility, (2) model

distillation for edge deployment, (3) geographic expansion to tropical/developing regions, and (4) active learning for optimal sampling.

5 Conclusions

1. SENTINEL is the first AI system to integrate five environmental sensing modalities (physicochemical sensors, satellite remote sensing, aquatic metagenomics, transcriptomic biomarkers, and organismal behavioral signals) for water pollution detection.
2. SENTINEL-DB, containing 390 million records from 13 public sources across 105 countries, is the largest multimodal water quality dataset ever assembled. All data is publicly available for reproducibility.
3. Multimodal fusion achieves AUROC = 0.992 for anomaly detection, significantly outperforming the best single modality (AUROC = 0.943, $p = 0.002$), demonstrating that cross-modal information provides substantial detection improvement.
4. SENTINEL detected all 10 historical contamination events tested (100% detection rate) with a median lead time of 32.6 hours before official detection, including detection of the Flint Water Crisis 507 days before authorities acknowledged contamination.
5. The system degrades gracefully under missing modalities, maintaining AUROC $>$ 0.90 with any 2 of 5 modalities available, enabling deployment in settings where not all sensing modalities are feasible.
6. Conformal prediction provides distribution-free coverage guarantees ($\geq$ 0.95 at α = 0.05) for false alarm control, validated on 13,202 real encoder embeddings—the first such guarantee in environmental AI.
7. Causal discovery on real GRQA environmental data reveals 375 scientifically interpretable causal chains, including the TP $\rightarrow$ COD eutrophication mechanism with a 147-hour lag, demonstrating SENTINEL's potential as a scientific discovery tool.
8. Cost-optimal sensor placement analysis shows that effective monitoring can begin with satellite coverage alone at $0.50 per site per year, with incremental modalities added as budgets allow, providing a practical deployment roadmap.

6 References

[1] Flint Water Advisory Task Force (2016). Final Report. State of Michigan.

[2] NTSB (2024). East Palestine Train Derailment Investigation Report.

[3] Loreaux, E et al. (2025). HydroGEM: Foundation Model for Water Quality. *Water Resour. Res.*

[4] Guo, X et al. (2024). Diffusion Pre-Training for Fish Trajectory Recognition. *Aquat. Sci.*

[5] Thompson, LR et al. (2017). Earth's multiscale microbial diversity. *Nature* 551, 457–463.

[6] Zhi, W et al. (2024). Deep learning for water quality. *Nature Water* 2, 228–241.

[7] Dobša, J et al. (2022). GRQA v1.3. *Earth Syst. Sci. Data* 14, 5765–5789.

[8] Gu, A and Dao, T (2024). Mamba: Selective State Spaces. *COLM*.
[9] Dosovitskiy, A et al. (2021). An Image is Worth 16x16 Words. *ICLR*.
[10] He, K et al. (2022). Masked Autoencoders Are Scalable Vision Learners. *CVPR*.
[11] Gordon-Rodriguez, E et al. (2022). Compositional Data Augmentation. *NeurIPS*.
[12] Jaegle, A et al. (2021). Perceiver IO. *ICML*.
[13] Gibbs, I and Candès, EJ (2021). Adaptive Conformal Inference. *NeurIPS*.
[14] Runge, J et al. (2019). Causal associations in nonlinear time series. *Sci. Adv.* 5, eaau4996.
[15] Radford, A et al. (2021). CLIP: Visual Models from Language Supervision. *ICML*.
[16] Pereira, TD et al. (2022). SLEAP: Multi-animal pose tracking. *Nat. Methods* 19, 486–495.
[17] WHO/UNICEF (2023). Progress on Drinking Water 2000–2022.
[18] Jakubik, J et al. (2024). Prithvi-EO-2.0. arXiv:2412.02756.
[19] Zhou, Z et al. (2024). DNABERT-S. *ISMB*.
[20] Kidger, P et al. (2020). Neural CDEs for Irregular Time Series. *NeurIPS*.
[21] Ansari, AF et al. (2025). Chronos. arXiv:2403.07815.
[22] Ghattas, A et al. (2024). SIT-FUSE: HAB Monitoring. *AGU*.

Annex I. Model Architecture and Training Details

Table A1. Encoder architecture specifications.

Encoder	Architecture	Params	LR	Epochs
AquaSSM	Continuous-time SSM	2.1M	1e-3	100
HydroViT	ViT-S/16 + MAE	22.1M	5e-4	200
MicroBiomeNet	Aitchison MLP + ODE	8.4M	3e-4	100
ToxiGene	P-NET hierarchy	145.2M	1e-4	50
BioMotion	Diffusion U-Net	11.7M	2e-4	200
Fusion	Perceiver IO (64 latents)	33.6M	1e-4	100
Total		**223.1M**		

All models were trained on a single NVIDIA RTX 4060 (8 GB VRAM) using PyTorch 2.0 with AdamW optimizer. Total training time: approximately 72 hours across all encoders and fusion.

Annex II. Conformal Prediction Theory

SENTINEL's anomaly detection provides the following distribution-free guarantee:

Theorem (Conformal Coverage). Given calibration data $\{z_1, \ldots, z_n\}$ drawn exchangeably from distribution P, and a geometry-aware nonconformity score $s : \mathcal{Z} \to \mathbb{R}$, the conformal prediction set $C_\alpha(z) = \{z : s(z) \leq \hat{q}_{1-\alpha}\}$ satisfies:

$$P(z_{n+1} \in C_\alpha) \geq 1 - \alpha$$

where $\hat{q}_{1-\alpha}$ is the $\lceil (1-\alpha)(n+1) \rceil / n$ quantile of calibration scores. The nonconformity score adapts to the data geometry: Mahalanobis distance for Euclidean spaces (sensor, molecular, behavioral), Aitchison distance for the simplex (microbial), and cosine distance for image feature spaces (satellite).